COURSE INSTRUCTIONS

IN THE

GRIID SYSTEM™

FEATURING

CAMEO IMAGING™

Stage 2

	A	B	C	D
1	W Center St Kahler Grand 2 Ave SW	COKER 0 1 1 0	CDT 8:00:00 20m00s	You may encounter Support Vehicles without penalty today in Rochester and on US 63
2	Broadway Ave S			2nd
3	US 14			[look left: award-winning water tower]
4	I-90 West		(1m00s)	toward Austin
5	Speed Limit 70	0 10 20 30 40 50 60 MPH 0 2 8 0	50 MPH 34m00s * 0m00.0s	
6	Austin 28		0m44.2s 0m44.2s	
7	County 6		2m12.3s 2m56.5s	
8			1m28.9s 4m25.4s	

	A	B	C	D
9	Albert Lea 44		1m06.4s 5m31.8s	
10	County 15		2m45.0s 8m16.8s	(sign on left)
11	County 1		3m16.3s 11m33.1s	
12	County 2		4m50.1s 16m23.2s	
13	Dexter		0m39.6s 17m02.8s	
14			1m49.8s 18m52.6s	
15	Austin 13		0m58.1s 19m50.7s	
16	Elkton		1m22.0s 21m12.7s	
17			1m41.9s 22m54.6s	
18	County 20		1m13.0s 24m07.6s	

	A	B	C	D
19	**Austin 7**		2m23.3s 26m30.9s	
20	**Rose Creek**		2m08.3s 28m39.2s	
21	**Austin 2**		2m21.1s 31m00.3s	
22	**Austin Next 7 Exits**		1m05.8s 32m06.1s	
23	**Austin Pop 26174**	0 0 7 0	1m10.2s 33m16.3s **26m00s**	
24	**Owatonna 1/2 Mile**			
25	**Exit 177**			
26	**14th St NW**		**(6m00s)**	Sinclair/McDonald's (big) Kwik Trip additional facilities in 2 miles

	A	B	C	D
27				4th
28	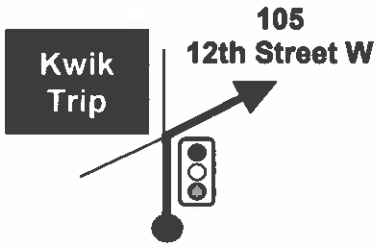		(3m00s)	1st (another) Kwik Trip Casey's
29			(0m15s)	
30	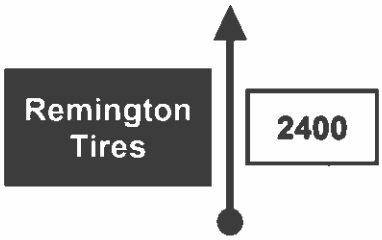	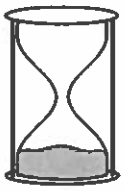	CDT 35 MPH	small green house number sign-- comes quick
31			45 MPH	
32			30 MPH	follow this Curve Warning Sign
33	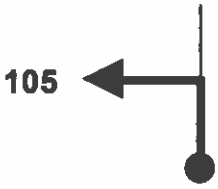		45 MPH	

	A	B	C	D
34			**35 MPH** **1m12s** **45 MPH**	
35			**40 MPH**	
36	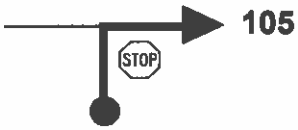		**0 MPH** **0m15s** **30 MPH**	
37	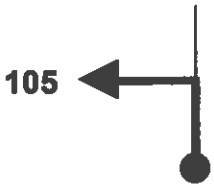		**45 MPH**	comes quick
38			**30 MPH**	
39	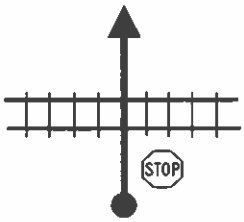		**0 MPH** **0m15s** **35 MPH**	
40			**40 MPH**	

	A	B	C	D
41	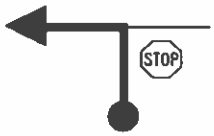		**0 MPH** **0m15s** **30 MPH**	
42	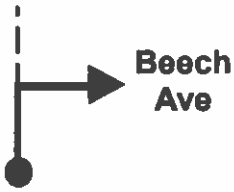		**45 MPH**	comes quick
43			**35 MPH** **1m12s** **45 MPH**	
44			**20 MPH**	
45	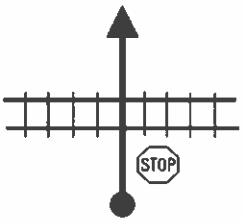		**0 MPH** **0m15s** **20 MPH**	then follow the Center Stripe
46	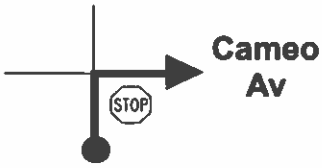		**0 MPH** **0m15s** **45 MPH**	
47			**35 MPH**	

	A	B	C	D
48			0 MPH 0m15s 45 MPH	
49			20 MPH	
50	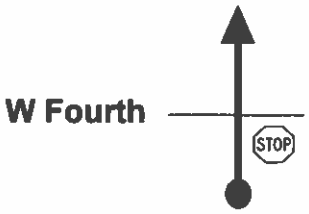		0 MPH 0m15s 20 MPH	
51			48 MPH	
52			40 MPH	
53	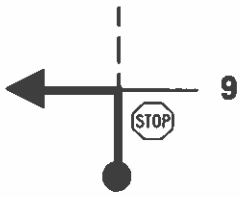		0 MPH 0m15s 50 MPH	
54	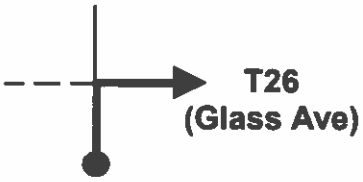		48 MPH	

	A	B	C	D
55			**30 MPH**	
56	**Rudd Park** 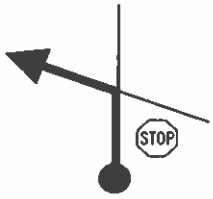		**0 MPH** **0m15s** **40 MPH**	
57		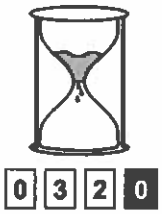	**55m00s**	
58	**US 18** 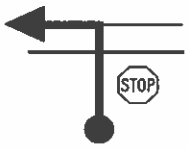			
59				
60	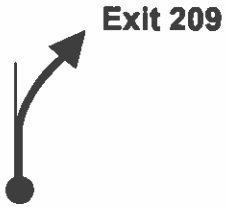			
61	**South US 218** 	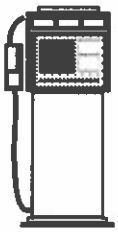 **next refueling stop: 195 miles**	**(30m00s)**	to the left (off-course): BP (big) Love's after your Refueling Stop, re-enter South US 218/ East US 18

	A	B	C	D
62	Plainfield 7			
63	188 Plainfield Clarksville 1 Mile			
64	188 Plainfield			
65	188 STOP		(0m30s)	
66	Plainfield Engine Brake Ordinance Enforced		25 MPH	
67	Main St STOP		0 MPH 0m15s 25 MPH	
68	Speed Limit 45		40 MPH 0m27s 50 MPH	

	A	B	C	D
69	Easton (V14)		30 MPH 0m36s 45 MPH	after
70			40 MPH	
71	C33 STOP		0 MPH 0m15s 45 MPH	
72	Speed Limit 35		30 MPH 1m36s 45 MPH	
73		0 4 8 0	(2h00m00s)	
74	Within 15m00s, go to **https://www.grscores.com/timeallowance** to submit your Time Allowance(s) for this morning's run, if any. Today is Stage 2. If you have no Time Allowances, no action is required at this time.			

	A	B	C	D
75	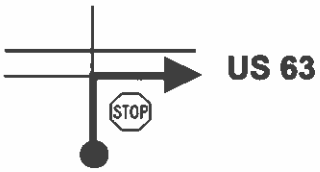			You may encounter Support Vehicles without penalty today on US 63
76				
77	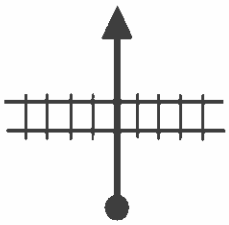			
78	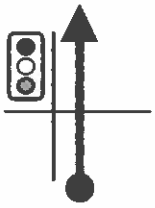			3rd then merge left
79	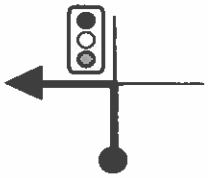			2nd
80	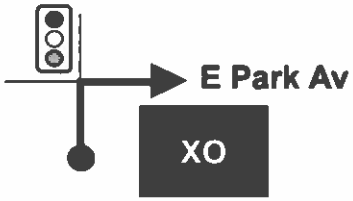			
81	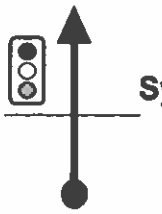			

	A	B	C	D
82	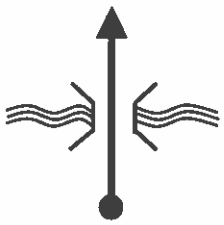			[Cedar River]
83			(40m00s)	1st Commercial Street, Waterloo, Iowa
84	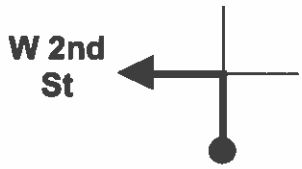			
85	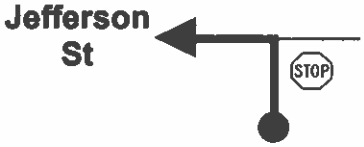			
86				1st
87	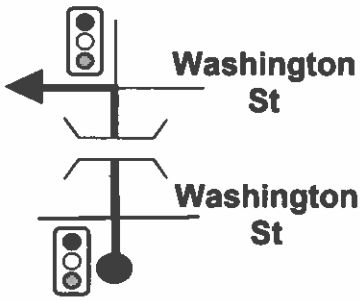			
88				

	A	B	C	D
89	Exit 71 South I-380 Cedar Rapids			
90	US 20 East Dubuque I-380			
91	Jesup 6			
92	Independence 10			
93	150 Independence Vinton 1 Mile			
94	Exit 254			don't use Exit 252
95	STOP			

	A	B	C	D
96	1st St E			3rd
97	Speed Limit 40		(0m20s)	
98			EDT 1:35:00 35 MPH 0m36s 48 MPH	back of triangle-shaped sign on right
99	W40			
100	Speed Limit 45		30 MPH	
101	Speed Limit 25		20 MPH	
102	D47			

	A	B	C	D
103	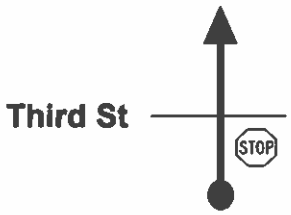		**0 MPH** **0m15s** **20 MPH**	
104			**30 MPH** **1m12s** **45 MPH**	
105			**40 MPH**	
106	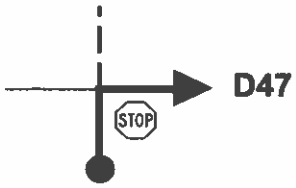		**0 MPH** **0m15s** **35 MPH**	
107			**0m36s** **45 MPH**	comes quick
108			**40 MPH** **0m36s** **50 MPH**	
109			**40 MPH**	

	A	B	C	D
110	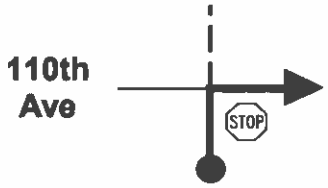		**0 MPH** **0m15s** **50 MPH**	
111	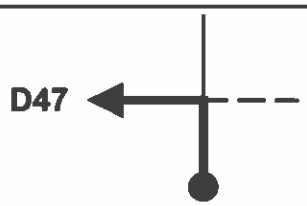			
112			**30 MPH**	
113	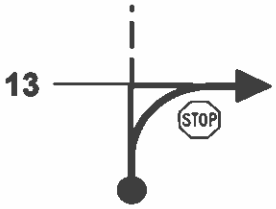		**0 MPH** **0m15s** **30 MPH**	
114			**0m24s** **50 MPH**	comes quick
115			**40 MPH**	
116	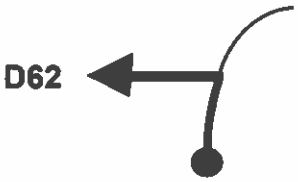		**0m27s** **50 MPH**	1st paved road
117	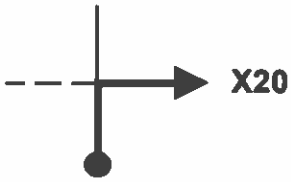			1st paved road

	A	B	C	D
118			**20 MPH**	
119			**0 MPH** **0m15s** **20 MPH**	
120			**50 MPH**	
121			**48 MPH**	
122			**45 MPH**	
123			**35 MPH**	
124		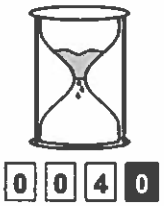	**25m00s**	

	A	B	C	D
125	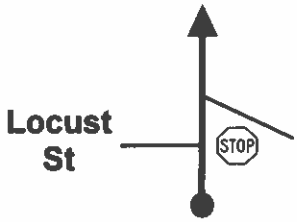			1st STOP
126	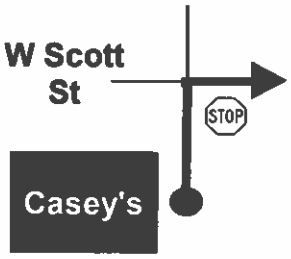		(5m00s)	Casey's additional facilities in 1 mile
127	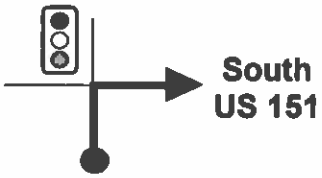		(3m00s)	ahead (off course) within 1/4 mile: McDonald's Subway (next to McDonald's) (another) Casey's
128				merge left
129	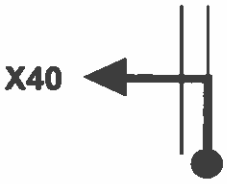		(0m15s)	1st paved road--comes quick
130			45 MPH	comes quick--brown sign
131			30 MPH	

	A	B	C	D
132	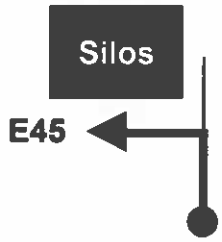		**20 MPH** **1m12s** **48 MPH**	3rd paved road
133			**18 MPH**	
134	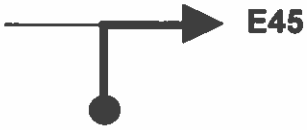			
135				2nd paved road-- comes very quick (sign on right)
136	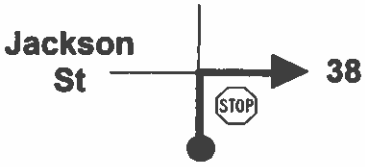		**0 MPH** **0m15s** **18 MPH**	
137			**20 MPH** **0m45s** **40 MPH** **0m27s** **50 MPH**	

	A	B	C	D
138			35 MPH	
139	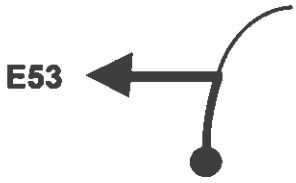		0m36s 48 MPH	comes quick
140			40 MPH	
141	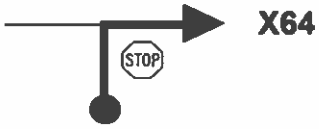		0 MPH 0m15s 45 MPH	
142			25 MPH	
143	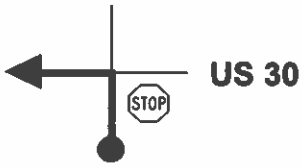		0 MPH 0m15s 50 MPH	[Lincoln Highway]
144			45 MPH 1m36s 50 MPH	

	A	B	C	D
145			40 MPH	
146	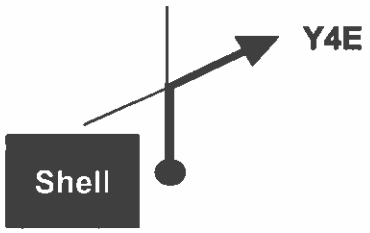		45 MPH	
147			30 MPH 1m12s 40 MPH 0m36s 45 MPH	
148			30 MPH 1m30s 35 MPH	
149			25 MPH	
150	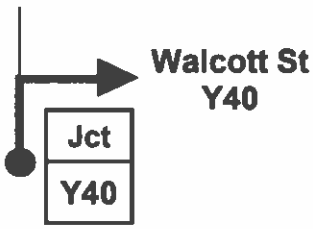		1m12s 45 MPH	

	A	B	C	D
151	Speed Zone Ahead	0 2 5 0	45m00s	
152	Within 15m00s, go to **https://www.grscores.com/timeallowance** . Submit your Time Allowance(s) for this afternoon's run, if any. Today is Stage 2. Then, whether or not you submitted any Time Allowances today, click the red button at the bottom of the Time Allowance web page, so we can print your scorecard.			
153	New Liberty Rd STOP			
154	Speed Zone Ahead			
155	BP Pilot			free fuel compliments of CAT Scales and Iowa 80 Truckstop, the world's largest truckstop Walcott, Iowa

	A	B	C	D
156	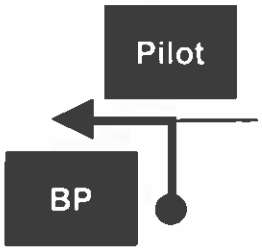			after refueling, leave with BP on your left
157	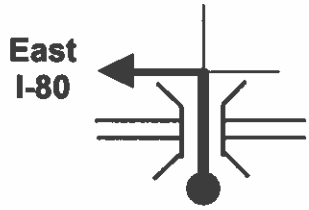	Hosted dinner in Vibrant Arena at 5:15:00 this afternoon. Sightseeing available: Channel Cat Water Taxi. Board behind Wyndham every 30m00s; a round trip takes 1h05m00s. Last departure is at 5:50:00. All cars must remain on display on River Drive until 8:00:00 this evening. All cars must leave River Drive by 8:30:00. Overnight race car parking is at the hotels.		
158				
159	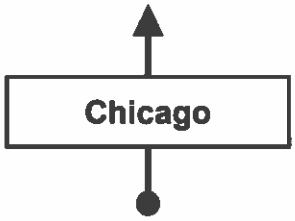			
160				
161				
162				

	A	B	C	D
163		Stage 3 tomorrow: Moline to Springfield, Illinois Breakfast start times: Wyndham: 6:00:00 Axis Hotel: 6:00:00 Stoney Creek Hotel: 6:30:00 Element Hotel: 6:30:00 Hyatt Place: 6:30:00 Receive Course Instructions at Wyndham. Official Start Time: 9:00:00 First Refueling Stop: 50 miles		
164				comes quick
165	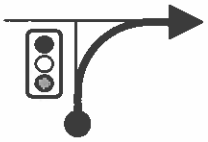			
166	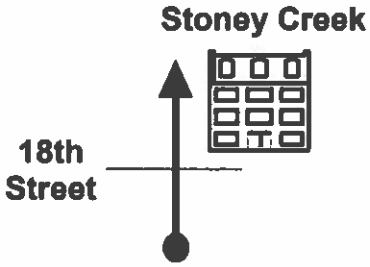			to the right on 18th: Stoney Creek Hotel (one of our hotels)
167	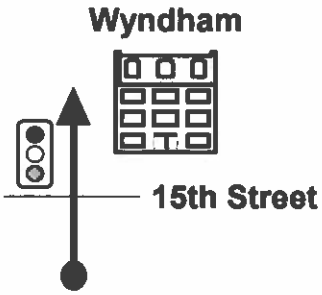			John Deere Commons, Moline, Illinois Wyndham-- receive Course Instructions here tomorrow morning
168	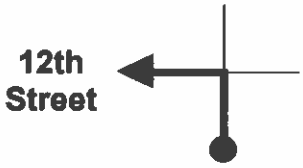			to the other hotels (up to 5 miles) 1st paved road

	A	B	C	D
169	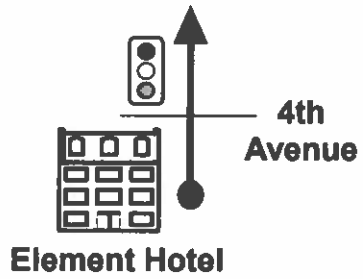			1st Element Hotel
170				1st paved road
171	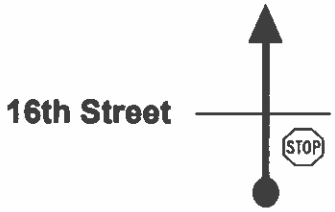			
172	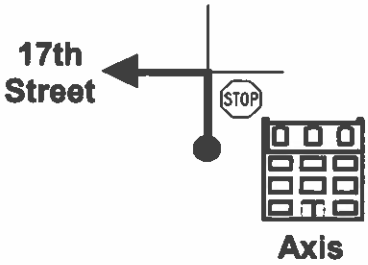			Axis Hotel
173	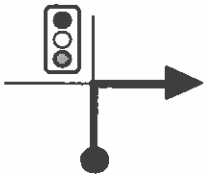			2nd
174	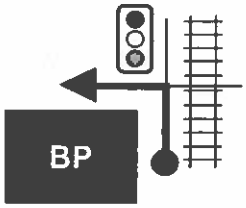			Hyatt Place