COURSE INSTRUCTIONS

IN THE

GRIID SYSTEM™

FEATURING

CAMEO IMAGING™

Stage 7

	A	B	C	D
1	(Civic Center Dr) Starbucks STOP Courtyard	COKER 0 0 4 5	EDT 8:00:00 10m00s	You may encounter Support Vehicles without penalty today in Charleston and on I-64
2	STOP (Virginia)			comes very quick
3	Clendenin Wendy's			1st
4	Kanawha			1st
5	to I-64 Greenbrier			
6	State Capitol			comes quick [State Capitol]
7	Beckley		(0m20s)	

	A	B	C	D
8	Beckley	0 10 20 30 40 50 60 MPH 0 1 4 0	**50 MPH** **17m00s** * 0m00.0s	Today's Speedometer Calibration Run is in two parts
9	Booker T Washington		1m07.3s 1m07.3s	
10	MacCorkle Ave		0m44.2s 1m51.5s	
11	Beckley		0m58.1s 2m49.6s	
12	Beckley 50		1m03.0s 3m52.6s	
13	Chesapeake		3m30.8s 7m23.4s	(sign on right)
14	Beckley 44		2m26.4s 9m49.8s	
15	Chelyan		2m03.1s 11m52.9s	

	A	B	C	D
16			2m38.7s 14m31.6s	
17	Beckley 40		0m42.5s 15m14.1s	
18	Pay Toll 1 Mile		0m32.8s 15m46.9s	
19	Toll Plaza 1/2 Mile	0015	0m33.1s 16m20.0s **3m00s**	
20	Toll Plaza		**(1m30s)**	**$4.50** **or EZPass**
21	Sharon	0 10 20 30 40 50 60 MPH 0210	**50 MPH** **25m00s** * 0m00.0s	
22	55 MPH		0m56.0s 0m56.0s	
23			1m49.2s 2m45.2s	

	A	B	C	D
24			1m44.4s 4m29.6s	
25			1m58.8s 6m28.4s	
26			3m21.0s 9m49.4s	
27			1m11.1s 11m00.5s	
28			1m32.8s 12m33.3s	
29			3m04.6s 15m37.9s	
30			1m34.6s 17m12.5s	

	A	B	C	D
31	Mossy 5		2m17.2s 19m29.7s	
32	Mossy Oak Hill 1 Mile	0 0 2 0	5m16.4s 24m46.1s **5m00s**	
33	Exit 60			
34	STOP		**(1m00s)**	
35				comes quick-- to follow the Center Stripe
36	Oak Hill 9		**EDT** 9:00:00 **35 MPH**	limited parking-- await your Restart time at Exxon
37	25 MPH		**25 MPH**	

	A	B	C	D
38			**35 MPH** **0m36s** **40 MPH**	
39			**35 MPH** **0m36s** **40 MPH**	look sharp
40			**25 MPH**	
41			**0 MPH** **0m15s** **20 MPH**	
42			**10 MPH** **0m54s** **20 MPH**	comes quick follow this Curve Warning Sign and the Center Stripe
43	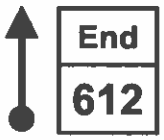		**1h30m00s**	

	A	B	C	D
44	US 19 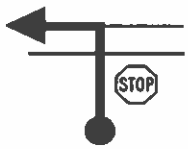	Transit Time includes driving time plus 45m00s for a refueling stop, sightseeing in New River Gorge National Park, and a Rest Stop at the Visitor Center. Sightseeing is available at numerous locations along Fayette Station Road Tour and at the Bridge Overlook at Canyon Rim Visitor Center.		caution
45		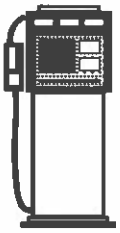		Exxon (16 pumps) on right Sheetz (18 pumps) on left Sunoco (8 pumps) on right Exxon (12 pumps) on right
46				brown sign
47	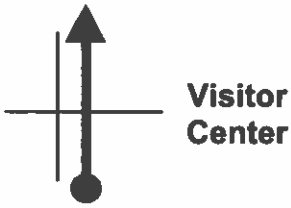			brown sign you will be back here in about 1h00m00s
48	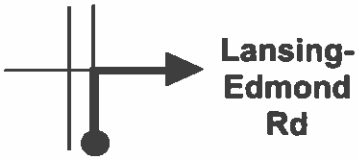			1st paved road Begin 8-mile Fayette Station Road Tour. Allow 30m00s driving time plus sightseeing time.
49	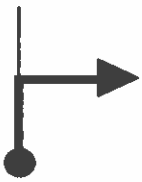			1st named road

	A	B	C	D
50	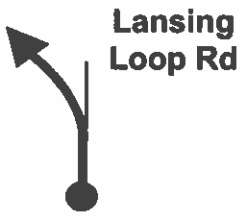			comes very quick narrow road
51	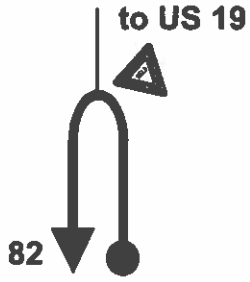			
52				
53				End 8-mile Fayette Station Road Tour.
54	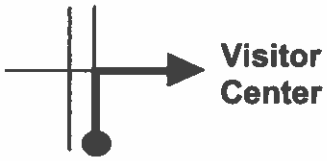			1st paved road
55			(2m00s)	1st paved road Canyon Rim Visitor Center, New River Gorge National Park
56	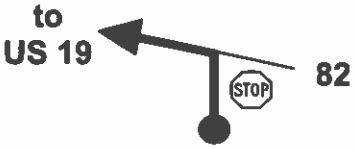			leave Visitor Center where you entered

	A	B	C	D
57	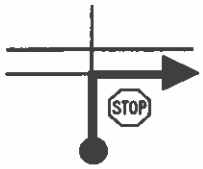 **(US 19)**			comes quick
58	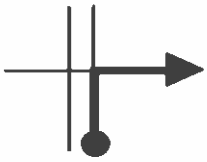 **Lansing-Edmond Rd**		**(0m10s)**	comes quick
59		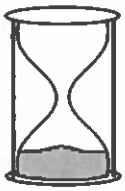	**25 MPH** **1m12s** **30 MPH**	comes quick
60			**25 MPH**	
61	**Edmond Rd** 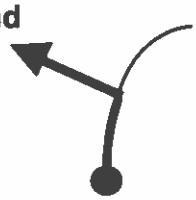		**4m48s** **30 MPH**	1st paved road (sign on right)
62	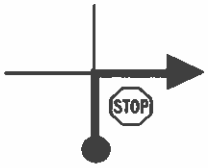		**0 MPH** **0m15s** **45 MPH**	
63			**40 MPH**	

	A	B	C	D
64			45 MPH	
65			40 MPH 0m36s 45 MPH	
66			35 MPH 1m12s 45 MPH	
67			35 MPH	
68			30 MPH	
69			25 MPH	

	A	B	C	D
70			20 MPH	
71			35 MPH	
72			15 MPH 1m00s 25 MPH	
73			20 MPH 1m30s 25 MPH	
74			30 MPH	

	A	B	C	D
75			25 MPH	
76			20 MPH	
77				
78			30 MPH	
79			20 MPH	
80	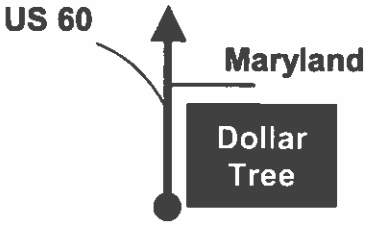			

	A	B	C	D
81	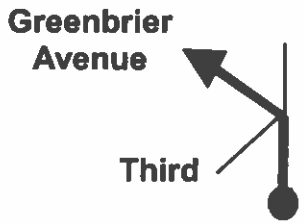			
82				
83	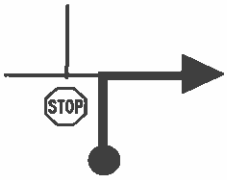		0 MPH 0m15s 20 MPH	
84			35 MPH	
85			40 MPH	
86			35 MPH	

	A	B	C	D
87			**30 MPH** **0m36s** **35 MPH** **0m36s** **40 MPH**	
88			**35 MPH**	
89			**30 MPH**	
90			**45 MPH**	
91			**35 MPH** **1m12s** **45 MPH**	

	A	B	C	D
92			30 MPH 0m36s 45 MPH	
93			35 MPH	
94			30 MPH 0m48s 45 MPH	
95			30 MPH 1m48s 45 MPH	
96			40 MPH	
97	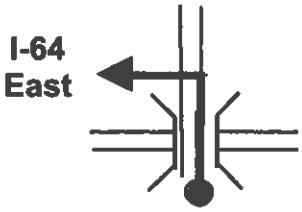		0m18s 50 MPH	

	A	B	C	D
98				
99				
100				
101			35 MPH	comes very quick
102	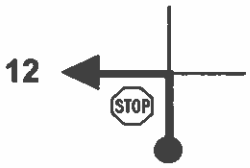		0 MPH 0m15s 30 MPH	
103	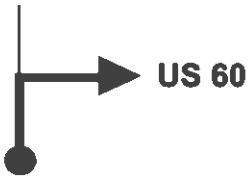		15 MPH	
104			30 MPH 0m36s 40 MPH	

	A	B	C	D
105			**20 MPH** **2m06s** **30 MPH**	
106			**45 MPH**	
107			**35 MPH** **0m36s** **45 MPH**	
108		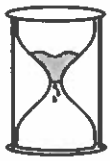 0 1 8 0	 **(1h45m00s)**	
109	Within 15m00s, go to **https://www.grscores.com/timeallowance** to submit your Time Allowance(s) for this morning's run, if any. Today is Stage 7. If you have no Time Allowances, no action is required at this time.			

	A	B	C	D
110	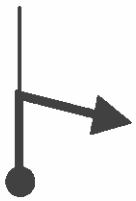 Bungers Mill Rd			1st paved road-- comes quick
111	Herns Mill Rd 			1st paved road-- comes quick caution-- narrow bridge
112				
113				
114	Lewisburg Voted Coolest			
115	Church St		(30m00s)	Washington Street, Lewisburg, West Virginia
116	US 219 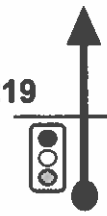 Jefferson Street			2nd

	A	B	C	D
117	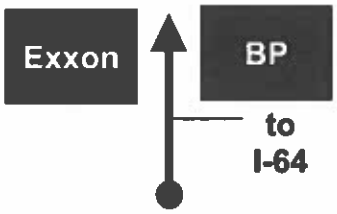	 next rest stop: 2h20m00s	(10m00s)	Exxon BP McDonald's on left Wendy's on right [The Greenbrier on left] Marathon on right Shell on right GoMart on left
118			EDT 40 MPH 1m12s 50 MPH	after (same) GoMart
119				
120			40 MPH	
121			25 MPH 1m12s 40 MPH	

	A	B	C	D
122			**15 MPH** **0m48s** **40 MPH**	
123			**25 MPH**	
124			**30 MPH** **0m36s** **40 MPH**	
125			**30 MPH**	
126			**0 MPH** **0m15s** **45 MPH**	comes quick
127			**35 MPH**	

	A	B	C	D
128			40 MPH	
129			30 MPH 0m36s 40 MPH	
130			30 MPH	
131			35 MPH	
132			25 MPH	
133			15 MPH	

	A	B	C	D
134			30 MPH 2m00s 35 MPH	
135			30 MPH 5m00s 35 MPH	
136			25 MPH 0m36s 35 MPH	
137			20 MPH 0m36s 35 MPH	
138			25 MPH	
139			20 MPH 0m36s 25 MPH	

	A	B	C	D
140			**20 MPH**	
141			**1m30s** **25 MPH**	
142			**20 MPH** **0m54s** **25 MPH**	
143			**30 MPH**	
144			**35 MPH**	

	A	B	C	D
145			30 MPH 0m36s 35 MPH 1m12s 40 MPH	
146			30 MPH	
147	615 		20 MPH	
148			30 MPH 1m24s 40 MPH	
149			35 MPH	
150			25 MPH 0m36s 35 MPH	

	A	B	C	D
151				
152			30 MPH	
153	611 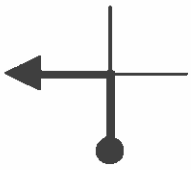			
154	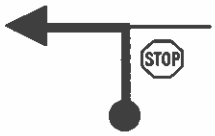 311		0 MPH 0m15s 35 MPH	
155			30 MPH 0m36s 35 MPH 1m12s 40 MPH	
156			30 MPH 2m12s 40 MPH	

	A	B	C	D
157			**35 MPH** **1m12s** **45 MPH**	
158			**35 MPH** **0m36s** **45 MPH**	
159			**40 MPH**	[crossing Appalachian Trail]
160	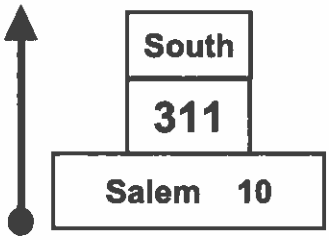	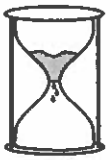 0 1 6 0	 **35m00s**	
161	Within 15m00s, go to **https://www.grscores.com/timeallowance** . Submit your Time Allowance(s) for this afternoon's run, if any. Today is Stage 7. Then, whether or not you submitted any Time Allowances today, click the red button at the bottom of the Time Allowance web page, so we can print your scorecard.			

	A	B	C	D
162				
163	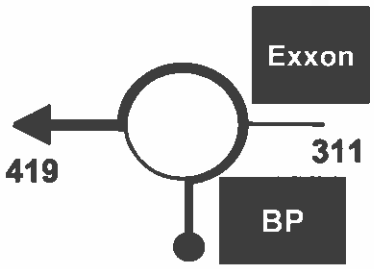	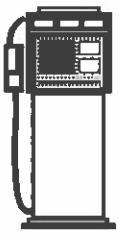		BP (4 pumps) Exxon (4 pumps) additional fuel in 1 mile
164	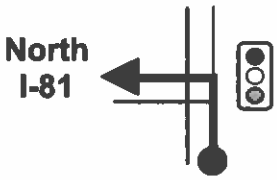			3rd ahead (off-course): Marathon/Burger King (6 pumps)
165	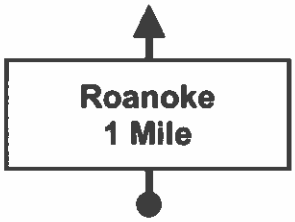	Hosted dinner at Virginia Museum of Transportation at 5:00:00 this afternoon. All cars must remain on display at Virginia Museum of Transportation until 7:30:00 this evening. All cars must leave Virginia Museum of Transportation by 8:00:00. Overnight race car parking is at the hotels.		
166	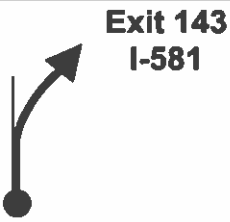			
167	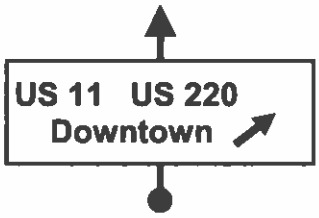			
168				comes very quick

	A	B	C	D
169				1st paved road-- comes very quick
170	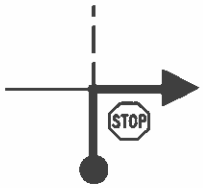			1st STOP -- comes quick
171				1st
172				1st
173	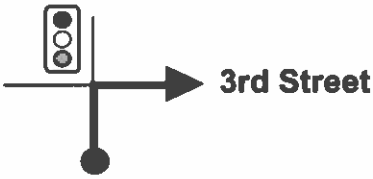			1st Virginia Museum of Transportation, Roanoke, Virginia
174		Stage 8 tomorrow: Roanoke, Virginia, to Mooresville, North Carolina See next page		to the hotels (6 miles), leave where you entered
175	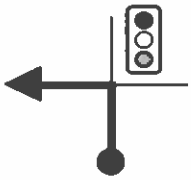			comes very quick

	A	B	C	D
176	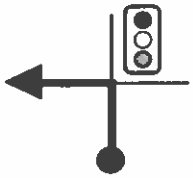 Gainsboro	Stage 8 tomorrow (continued): Breakfast start times: Holiday Inn: 6:00:00 Best Western Plus: 6:00:00 Hampton Inn: 6:00:00 Home2 Suites: 6:00:00 Candlewood Suites: 6:00:00 Hyatt Place: 6:00:00 Courtyard: 7:00:00 MainStay Suites: no breakfast Receive Course Instructions at Holiday Inn. Official Start Time: 8:00:00 First Refueling Stop: 30 miles		1st
177	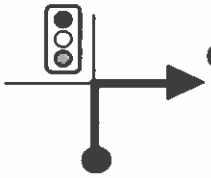 Orange Av			3rd
178	North I-581			don't go south
179	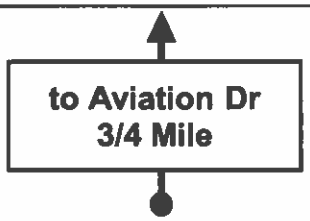 to Aviation Dr 3/4 Mile			
180	Exit 3E	to MainStay Suites, Best Western Plus, Hyatt Place, Hampton Inn, and Home2 Suites: Take Exit 3E. Turn right toward Shopping Center (1st paved road--comes quick). MainStay Suites is on the right--comes quick. Best Western Plus is on the right--comes quick. Hyatt Place is on the right--comes quick. Hampton Inn is on the left--comes quick. Turn right onto Valley View Blvd West at Stop Sign. Turn right at Yield Sign (before Smokey Bones). Turn left at Traffic Light--comes quick. Home2 Suites is on the right--comes quick.		
181	**see next page**			

	A	B	C	D
182	**Exit 3W**	to Courtyard, Holiday Inn, and Candlewood Suites: Take Exit 3W--comes quick. Turn right onto Ordway at 1st Traffic Light at Exxon. Courtyard is on the right--comes quick. Holiday Inn and Candlewood Suites are on the right --comes quick. Receive Course Instructions at Holiday Inn tomorrow morning.		
183	from MainStay Suites, Best Western Plus, Hyatt Place, or Hampton Inn to the start at Holiday Inn tomorrow morning: Turn right out of MainStay Suites, Best Western Plus, or Hyatt Place; or turn left out of Hampton Inn. Turn left onto Valley View Blvd West at Stop Sign. Turn left at Traffic Light. Bear right toward West 101 / to I-581 (don't go east). Turn right onto Ordway at 1st Traffic Light at Exxon. Holiday Inn is on the right.			
184	from Home2 Suites to the start at Holiday Inn tomorrow morning: Turn right out of Home2 Suites. Bear right toward West 101 / to I-581 (don't go east). Turn right onto Ordway at 1st Traffic Light at Exxon. Holiday Inn is on the right.			