COURSE INSTRUCTIONS

IN THE

GRIID SYSTEM™

FEATURING

CAMEO IMAGING™

Stage 7

2025 Hemmings Great Race

Stage 7 Emergency Instructions

Instruction # 80: Column A: "Maryland" sign may be missing

Instruction # 108: Change Column B to 21 Miles.

Replace Instruction #117 & #118 with

Turn right to I-64 at Exxon & BP.
Rest Stop. Exxon and BP here; ahead (off-course): McDonald's; Wendy's
Next Rest Stop: 2h20m00s
Allow (11m00s) to Restart. Limited parking at Restart.
Remain here until 11m00s before your Restart time.

Turn left onto I-64 East – comes quick.

Continue with instruction #119

Instruction # 120: delete Column C

Replace Instruction #121 with  Limited parking.

End Transit. Restart at 2:05:00 EDT. Speed 25 MPH for 1m12s speed 40 MPH

75
30
45

8:00
45
8:45

2025 Hemmings Great Race

Stage 7 Notice

Yesterday an observation checkpoint was in the National Park on the road under the New River Gorge Bridge. Although the instructions mentioned sightseeing, that did not mean to imply that portion of the route was optional. More than a dozen and half warnings were given because of vehicles not following the route. Event vehicles are expected to follow the published route instructions during the competition.

In addition, five vehicles were penalized for using two stop watches and one was penalized for using a calculator. Event regulations only allow for one stopwatch in the vehicle and calculators are prohibited.

	A	B	C	D
1	(Civic Center Dr) Starbucks STOP Courtyard	COKER 0 0 4 5	EDT 8:00:00 10m00s	You may encounter Support Vehicles without penalty today in Charleston and on I-64
2	(Virginia) STOP			comes very quick
3	Clendenin Wendy's			1st
4	Kanawha			1st
5	to I-64 Greenbrier			
6	State Capitol			comes quick [State Capitol]
7	Beckley		(0m20s)	

	A	B	C	D
8	Beckley	0 10 20 30 40 50 60 MPH 0 1 4 0	**50 MPH** **17m00s** * 0m00.0s	Today's Speedometer Calibration Run is in two parts START STOPWATCH
9	Booker T Washington		10761 1m07.3s 1m07.3s	
10	MacCorkle Ave		44 58 0m44.2s 1m51.5s	
11	Beckley		5790 0m58.1s 2m49.6s	
12	Beckley 50		10289 1m03.0s 3m52.6s	
13	Chesapeake		3 31 25 3m30.8s 7m23.4s	(sign on right)
14	Beckley 44		2 26 58 2m26.4s 9m49.8s	
15	Chelyan		2 03 40 2m03.1s 11m52.9s	

	A	B	C	D
16			2 39 19 2m38.7s 14m31.6s	
17	Beekley 40		43 00 0m42.5s 15m14.1s	
18	Pay Toll 1 Mile		32 72 0m32.8s 15m46.9s	
19	Toll Plaza 1/2 Mile	0 0 1 5	33 17 0m33.1s 16m20.0s 3m00s 16 22 31	STOP STOPWATCH ~~Esc~~ 2.3 sec
20	Toll Plaza		(1m30s)	**$4.50** or EZPass
21	Sharon	0 10 20 30 40 50 60 MPH 0 2 1 0	50 MPH 25m00s * 0m00.0s	START STOPWATCH
22	55 MPH		56 31 0m56.0s 0m56.0s	
23			1 49 19 1m49.2s 2m45.2s	

	A	B	C	D
24	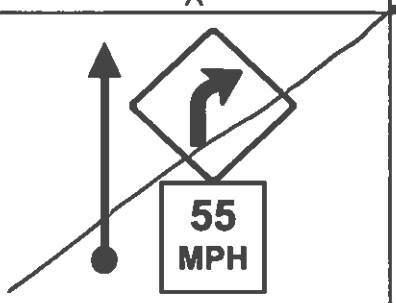		1 37 53 1m44.4s 4m29.6s	
25			2 06 38 1m58.8s 6m28.4s	
26			3 21 66 3m21.0s 9m49.4s	
27	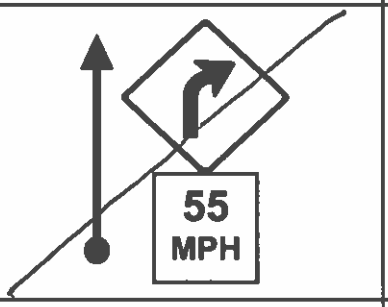		1 11 30 1m11.1s 11m00.5s	
28	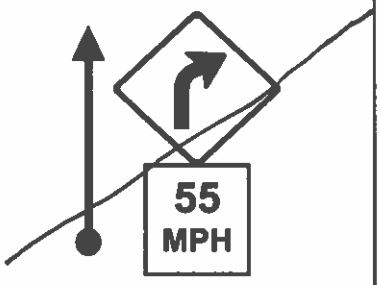		1 32 96 1m32.8s 12m33.3s	
29			3 05 30 3m04.6s 15m37.9s	
30			1 34 96 1m34.6s 17m12.5s	

	A	B	C	D
31	Mossy 5		2 17 50 2m17.2s 19m29.7s	
32	Mossy Oak Hill 1 Mile	0 0 2 0	5 17 18 5m16.4s 24m46.1s 24 50 25 5m00s	STOP STOPWATCH 4.5 sec
33	Exit 60		16.20 124.44 1.00	6.8 sec
34	STOP		(1m00s)	6.8 3.4 10.2
35				comes quick-- to follow the Center Stripe
36	Oak Hill 9		EDT 9:00:00 35 MPH	limited parking-- await your Restart time at Exxon 10:42:00 10:41:56
37	25 MPH		25 MPH	PAGE #s OUT OF SEQUENCE

25

	A	B	C	D
38			35 MPH 0m36s 40 MPH	
39			35 MPH 0m36s 40 MPH	look sharp
40			25 MPH	CK PT 1 10 56 45
41			0 MPH 0m15s 7.9 20 MPH	
42			10 MPH 0m54s 20 MPH	comes quick follow this Curve Warning Sign and the Center Stripe
43			1h30m00s	10:58:32 12:28:32

	A	B	C	D
44	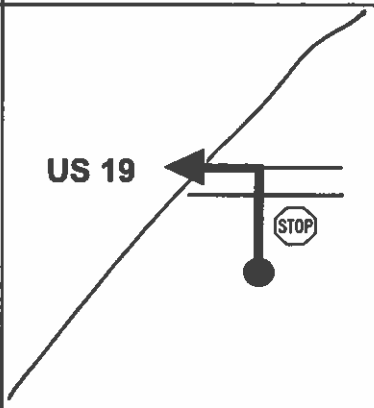	Transit Time includes driving time plus 45m00s for a refueling stop, sightseeing in New River Gorge National Park, and a Rest Stop at the Visitor Center. Sightseeing is available at numerous locations along Fayette Station Road Tour and at the Bridge Overlook at Canyon Rim Visitor Center.		caution
45	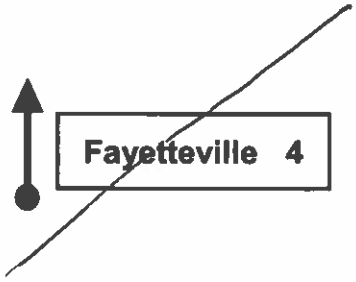	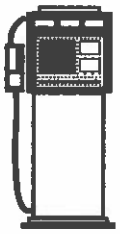		Exxon (16 pumps) on right Sheetz (18 pumps) on left Sunoco (8 pumps) on right Exxon (12 pumps) on right
46				brown sign
47	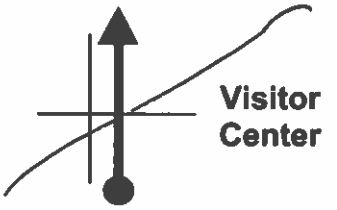			brown sign you will be back here in about 1h00m00s
48	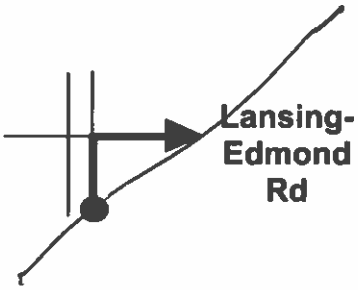			1st paved road Begin 8-mile Fayette Station Road Tour. Allow 30m00s driving time plus sightseeing time.
49	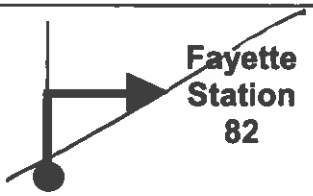			1st named road

	A	B	C	D
50	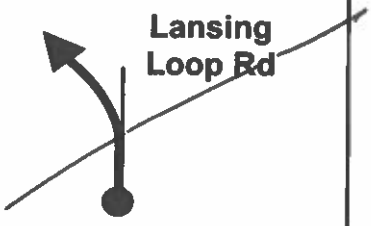			comes very quick narrow road
51	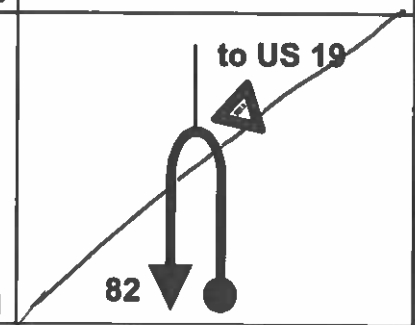			
52	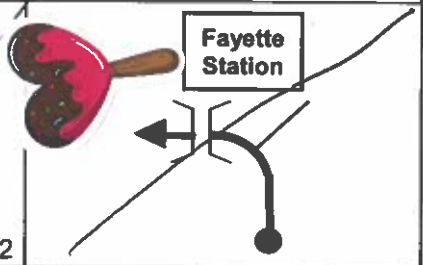			STOPPED BY GR OFFICIALS
53	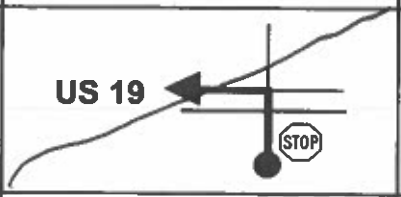			End 8-mile Fayette Station Road Tour.
54	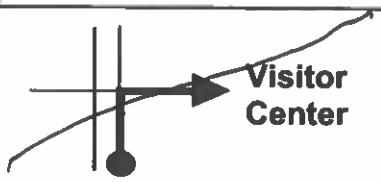			1st paved road
55	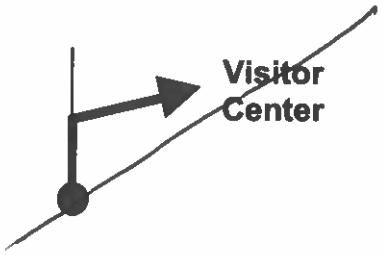		(2m00s)	1st paved road Canyon Rim Visitor Center, New River Gorge National Park
56	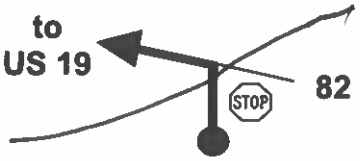			leave Visitor Center where you entered

23.4 5/0

	A	B	C	D
57	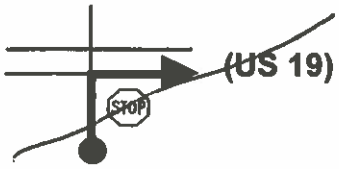			comes quick
58	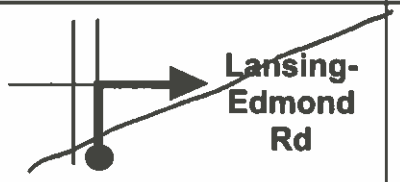		(0m10s)	comes quick
59		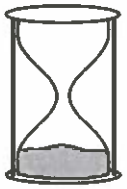	25 MPH 1m12s 30 MPH	comes quick 12:28:32 12:28:28
60			25 MPH	
61	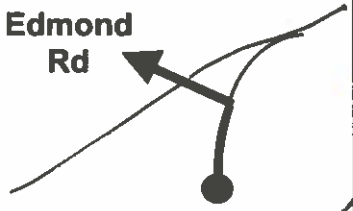	~~36 MPH~~ ~~+7sec~~ ~~back to 30~~	4m48s 30 MPH	1st paved road (sign on right)
62	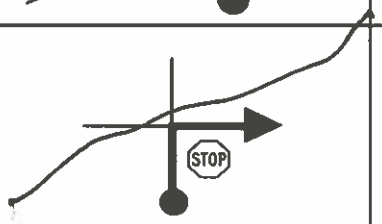		0 MPH 0m15s 4.6 45 MPH	
63			40 MPH	

40

	A	B	C	D
64	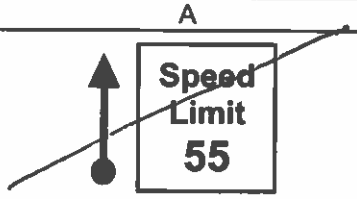		45 MPH	
65	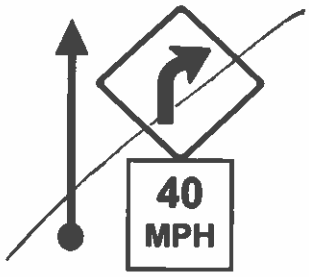		40 MPH 0m36s 45 MPH	
66			35 MPH 1m12s 45 MPH	
67	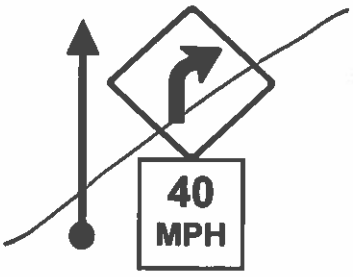		35 MPH	
68			30 MPH	
69	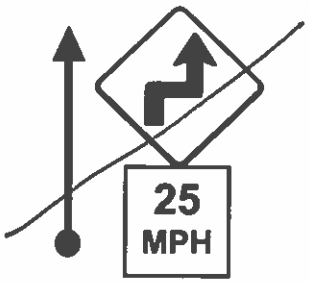		25 MPH	

25

	A	B	C	D
70			20 MPH	
71			35 MPH	
72			15 MPH 1m00s 25 MPH	
73			20 MPH 1m30s 25 MPH	
74			30 MPH	

© 2025, Great Race

30

	A	B	C	D
75			25 MPH	
76			20 MPH	
77	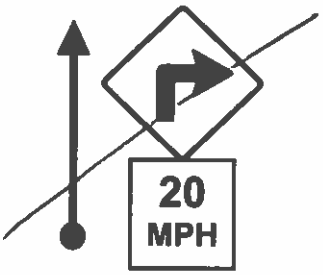			
78			30 MPH	
79			20 MPH	
80	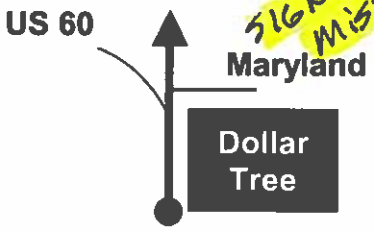 SIGN MAY BE MISSING			

TURN NEXT PAGE

4 2.9 5 145 20

	A	B	C	D
81	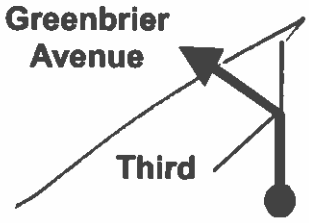	~~24 MPH 14.5 sec back to 20~~		
82	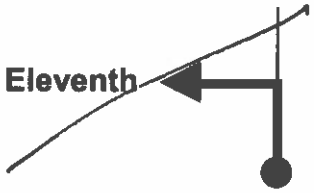	24 MPH 14.5 sec back to 20		-2.9
83	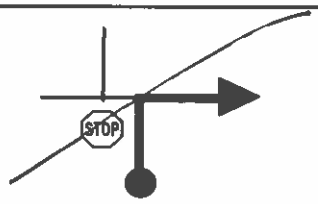		0 MPH 0m15s 7.9 20 MPH	
84			35 MPH	
85	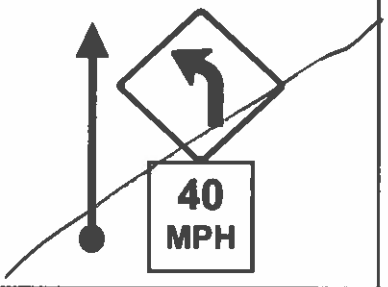		40 MPH	
86	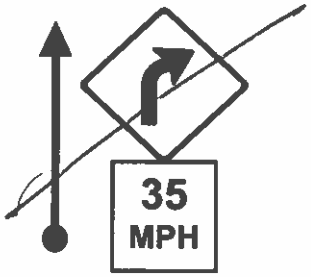		35 MPH	

35

ck. pt. 2
1-23-33

	A	B	C	D
87	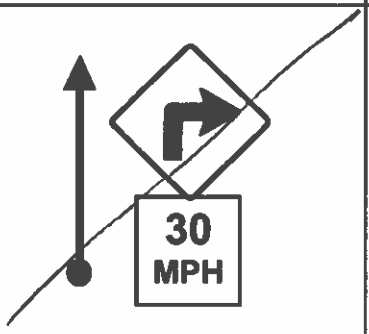		30 MPH 0m36s 35 MPH 0m36s 40 MPH	
88			35 MPH	
89			30 MPH	
90	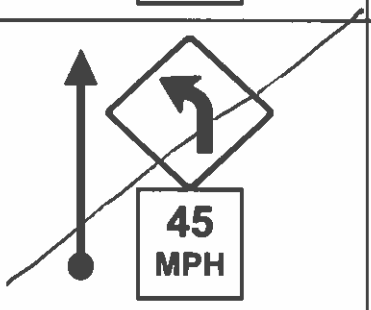		45 MPH	
91			35 MPH 1m12s 45 MPH	

45

	A	B	C	D
92			30 MPH 0m36s 45 MPH	
93	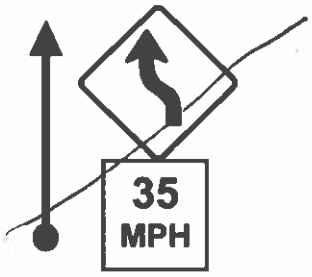		35 MPH	
94			30 MPH 0m48s 45 MPH	
95	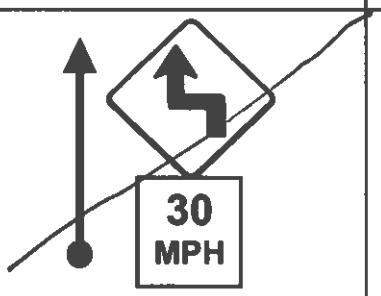		30 MPH 1m48s 45 MPH	
96	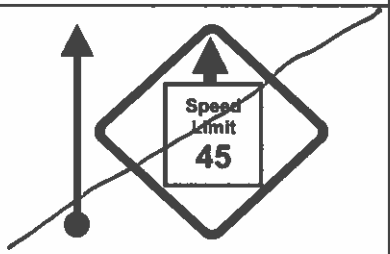		40 MPH	
97	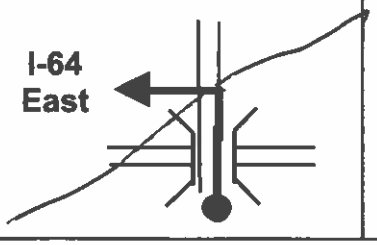		0m18s 50 MPH	-7

1.2 5/60 50 —

	A	B	C	D
98		60 MPH 35 sec back to 50		-7
99	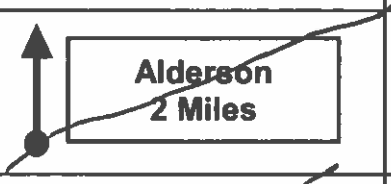			
100	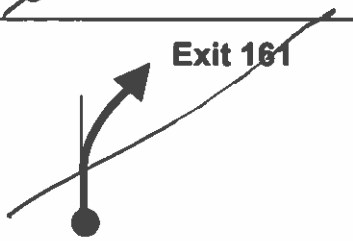			
101	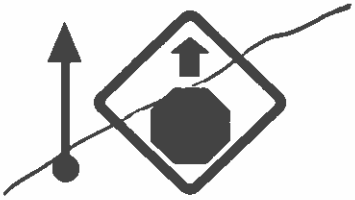		35 MPH	comes very quick
102	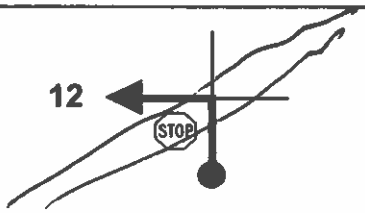		0 MPH 0m15s 7.4 30 MPH	
103	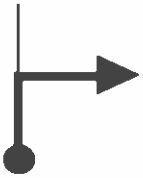	~~48 MPH 6 sec BACK 15~~	15 MPH	1.2
104	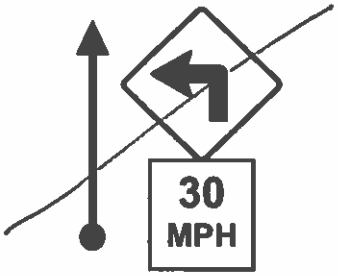		30 MPH 0m36s 40 MPH	

40

	A	B	C	D
105	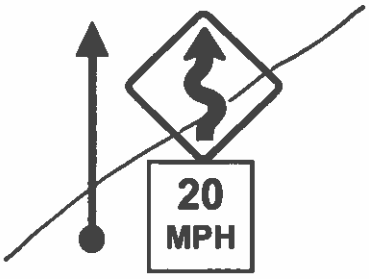		20 MPH 2m06s 30 MPH	
106	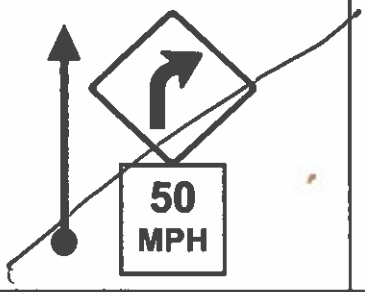		45 MPH	
107			35 MPH 0m36s 45 MPH	ck. pt. 3
108		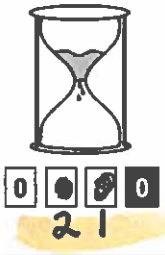	(1h45m00s)	
109	Within 15m00s, go to **https://www.grscores.com/timeallowance** to submit your Time Allowance(s) for this morning's run, if any. Today is Stage 7. If you have no Time Allowances, no action is required at this time.			

	A	B	C	D
110	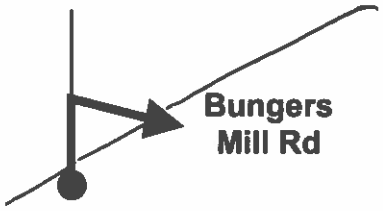			1st paved road-- comes quick
111	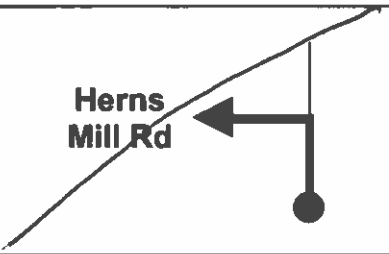			1st paved road-- comes quick caution-- narrow bridge
112	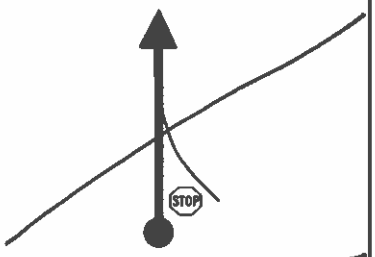			
113	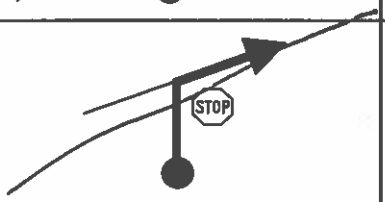			
114	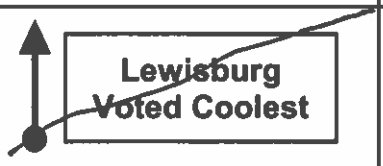			
115	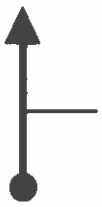		(30m00s)	Washington Street, Lewisburg, West Virginia
116	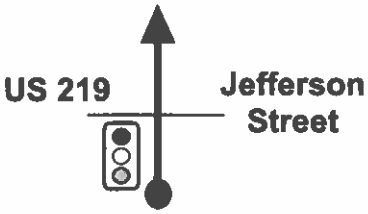			2nd

	A	B	C	D
117	Exxon BP to I-64 Remain Here UNTIL 11:00 mid before restart	next rest stop: 2h20m00s	(1m00s)	Exxon BP McDonald's on left Wendy's on right [The Greenbrier on left] Marathon on right Shell on right GoMart on left
118	TURN LEFT. ONTO I64 Covington VA 18	I-64 comes QUICK	EDT 2:05:00 40 MPH 1m12s 50 MPH	after (same) GoMart 3:47:00 2:05 60 42 2:05+60 =
119	Crows 1 Mile			3:05 42 3:47
120	Exit 183 Ramp 40 MPH		[redacted]	
121	30 MPH		~~25 MPH~~ ~~1m12s~~ ~~40 MPH~~	
121	Limited Parking	End Ramp	EDT 2:05	3:46:56

25MPH
1m12s
40MPH

40

	A	B	C	D
122			15 MPH 0m48s 40 MPH	
123			25 MPH	
124			30 MPH 0m36s 40 MPH	
125			30 MPH	
126	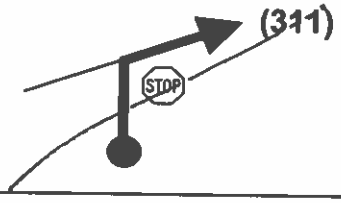		0 MPH 4.6 0m15s 45 MPH	comes quick
127			35 MPH	

35

	A	B	C	D
128			40 MPH	
129			30 MPH 0m36s 40 MPH	
130			30 MPH	
131	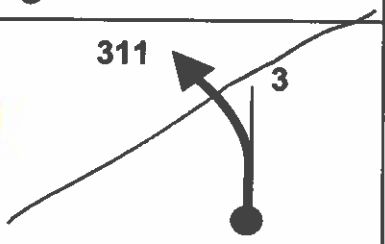		35 MPH	
132			25 MPH	
133			15 MPH	

15

	A	B	C	D
134			30 MPH 2m00s 35 MPH	
135			30 MPH 5m00s 35 MPH	
136			25 MPH 0m36s 35 MPH	
137			20 MPH 0m36s 35 MPH	
138			25 MPH	
139			20 MPH 0m36s 25 MPH	

25

	A	B	C	D
140			20 MPH	
141			1m30s 25 MPH	
142			20 MPH 0m54s 25 MPH	
143			30 MPH	
144	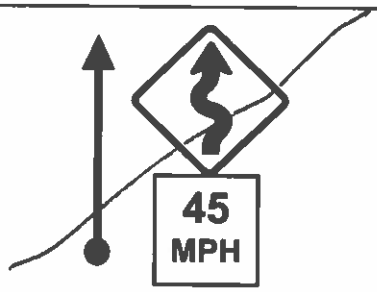		35 MPH	

3.1 5/15 35

	A	B	C	D
145			30 MPH 0m36s 35 MPH 1m12s 40 MPH	
146			30 MPH	
147	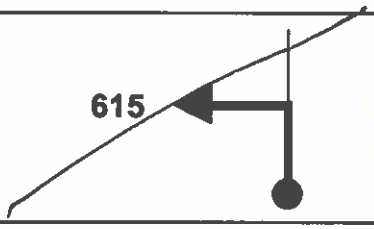	24 MPH FOR 15.5 sec back to 20	20 MPH	3.1
148			30 MPH 1m24s 40 MPH	CKPT 4 5638
149			35 MPH	
150	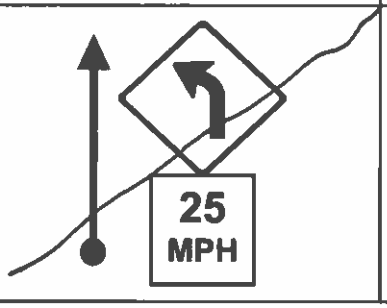		25 MPH 0m36s 35 MPH	

3.6 5/180 35

	A	B	C	D
151				
152			30 MPH	
153	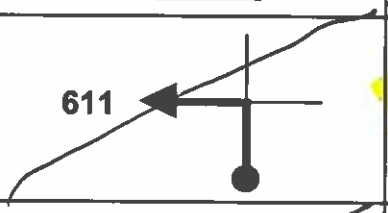	36mph FOR 18sec. back to 30		-3.6
154	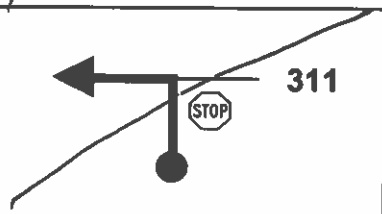		0 MPH 0m15s 6.9 35 MPH	
155			30 MPH 0m36s 35 MPH 1m12s 40 MPH	
156			30 MPH 2m12s 40 MPH	

~~245~~ 225 40

	A	B	C	D
157			35 MPH 1m12s 45 MPH	ACCIDENT ON ROAD 4 min. before ck. pt.
158			35 MPH 0m36s 45 MPH	54 MPH FOR 2:15 sec, BACK to 45
159			40 MPH	[crossing Appalachian Trail] ck. pt 5 6 49.35
160	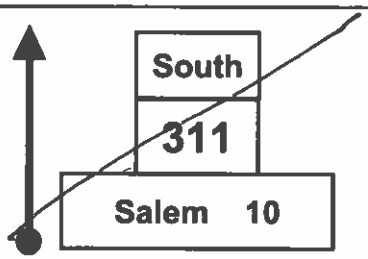	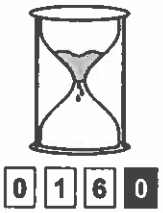	35m00s	
161	Within 15m00s, go to **https://www.grscores.com/timeallowance** . Submit your Time Allowance(s) for this afternoon's run, if any. Today is Stage 7. Then, whether or not you submitted any Time Allowances today, click the red button at the bottom of the Time Allowance web page, so we can print your scorecard.			

	A	B	C	D
162				
163	Exxon 419 311 BP			BP (4 pumps) Exxon (4 pumps) additional fuel in 1 mile
164	North I-81			3rd ahead (off-course): Marathon/Burger King (6 pumps)
165	Roanoke 1 Mile	Hosted dinner at Virginia Museum of Transportation at 5:00:00 this afternoon. All cars must remain on display at Virginia Museum of Transportation until 7:30:00 this evening. All cars must leave Virginia Museum of Transportation by 8:00:00. Overnight race car parking is at the hotels.		
166	Exit 143 I-581			
167	US 11 US 220 Downtown			
168	Exit 5			comes very quick

	A	B	C	D
169	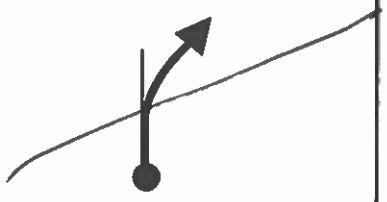			1st paved road-- comes very quick
170	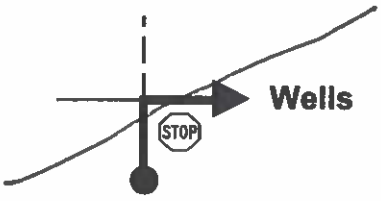			1st STOP -- comes quick
171				1st
172				1st
173	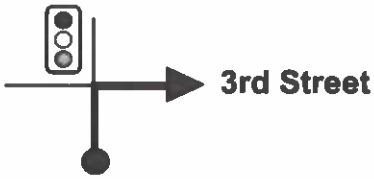	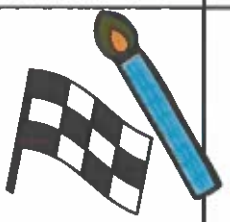		1st Virginia Museum of Transportation, Roanoke, Virginia
174		Stage 8 tomorrow: Roanoke, Virginia, to Mooresville, North Carolina See next page		to the hotels (6 miles), leave where you entered
175				comes very quick

	A	B	C	D
176	Gainsboro	Stage 8 tomorrow (continued): Breakfast start times: Holiday Inn: 6:00:00 Best Western Plus: 6:00:00 Hampton Inn: 6:00:00 Home2 Suites: 6:00:00 Candlewood Suites: 6:00:00 Hyatt Place: 6:00:00 Courtyard: 7:00:00 MainStay Suites: no breakfast Receive Course Instructions at Holiday Inn. Official Start Time: 8:00:00 First Refueling Stop: 30 miles		1st
177	Orange Av			3rd
178	North I-581			don't go south
179	to Aviation Dr 3/4 Mile			
180	Exit 3E	to MainStay Suites, Best Western Plus, Hyatt Place, Hampton Inn, and Home2 Suites: Take Exit 3E. Turn right toward Shopping Center (1st paved road--comes quick). MainStay Suites is on the right--comes quick. Best Western Plus is on the right--comes quick. Hyatt Place is on the right--comes quick. Hampton Inn is on the left--comes quick. Turn right onto Valley View Blvd West at Stop Sign. Turn right at Yield Sign (before Smokey Bones). Turn left at Traffic Light--comes quick. Home2 Suites is on the right--comes quick.		
181	**see next page**			

	A	B	C	D
182	**Exit 3W**	to Courtyard, Holiday Inn, and Candlewood Suites: Take Exit 3W--comes quick. Turn right onto Ordway at 1st Traffic Light at Exxon. Courtyard is on the right--comes quick. Holiday Inn and Candlewood Suites are on the right --comes quick. Receive Course Instructions at Holiday Inn tomorrow morning.		
183	from MainStay Suites, Best Western Plus, Hyatt Place, or Hampton Inn to the start at Holiday Inn tomorrow morning: Turn right out of MainStay Suites, Best Western Plus, or Hyatt Place; or turn left out of Hampton Inn. Turn left onto Valley View Blvd West at Stop Sign. Turn left at Traffic Light. Bear right toward West 101 / to I-581 (don't go east). Turn right onto Ordway at 1st Traffic Light at Exxon. Holiday Inn is on the right.			
184	from Home2 Suites to the start at Holiday Inn tomorrow morning: Turn right out of Home2 Suites. Bear right toward West 101 / to I-581 (don't go east). Turn right onto Ordway at 1st Traffic Light at Exxon. Holiday Inn is on the right.			

- - - -